UK Road Accident Analysis Dashboard

Slicers

District
- Barking and Dagenham
- Barnet
- Bexley
- Brent
- Bromley
- Camden
- City of London
- Croydon
- Ealing
- Enfield
- Greenwich
- Hackney
- Hammersmith and Fulham
- Haringey
- Harrow
- Havering
- Hillingdon
- Hounslow
- Islington
- Kensington and Chelsea
- Kingston upon Thames
- Lambeth
- Lewisham
- London Airport (Heathrow)
- Merton
- Newham
- Redbridge
- Richmond upon Thames
- Southwark
- Sutton
- Tower Hamlets
- Waltham Forest
- Wandsworth
- Westminster

Accident_Severity
- Fatal
- Fetal
- Serious
- Slight

31.09
Average of Speed_limit

25K
Sum of Number_of_Casualties

37K
Sum of Number_of_Vehicles

20.68K
Count of Accident_Index

Accident Distribution by Police force

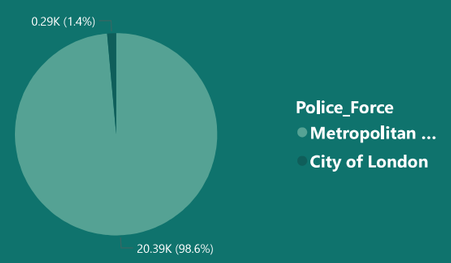

Accident by Vehicle type

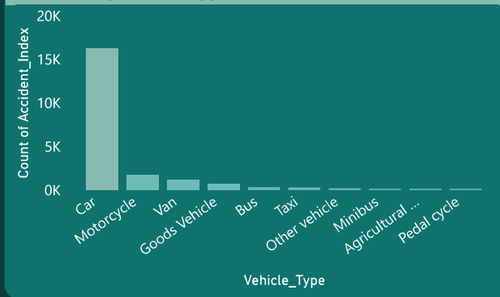

Accident Count by district

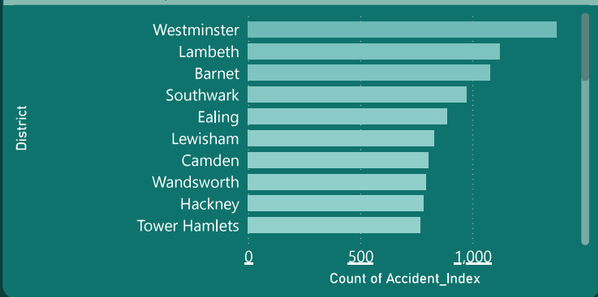

Districts with more than 1000

Relationship Between Number of Vehicles And Average Casualties



Accident Severity by Road Condition

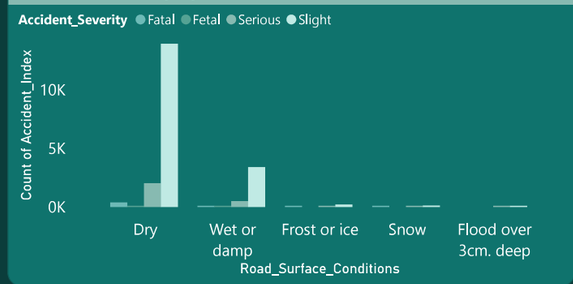

Accident by junction type

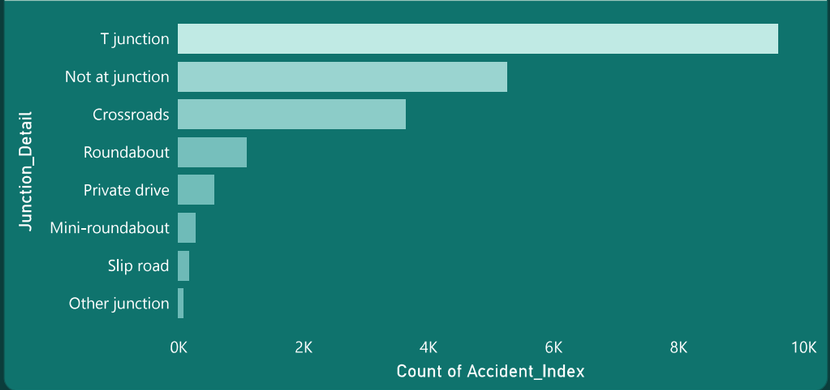

Accident Trend Over Time